Region 0, conflicts

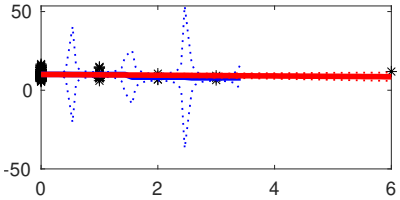

Region 0, conflicts 1 *lag*

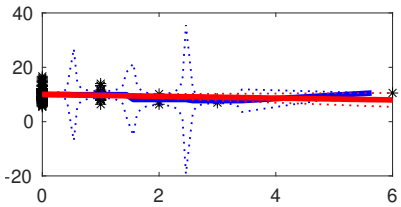

Region 0, conflicts 3 *sum*

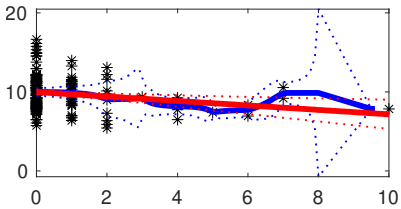

Region 0, rainfall

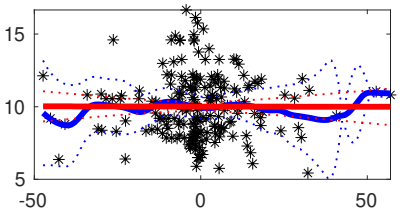

Region 0, rainfall 1 *lag*

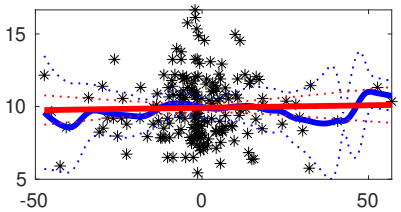

Region 0, rainfall 3 *sum*

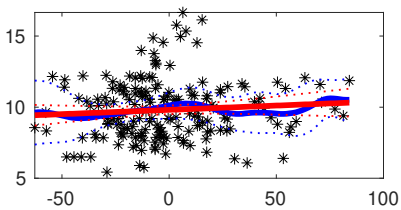

Region 0, NDVI

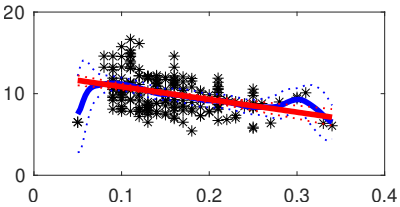

Region 0, NDVI 1 *lag*

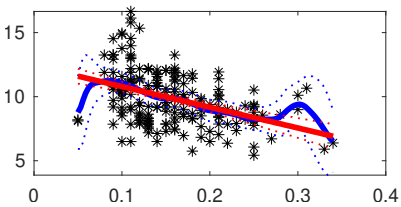

Region 0, NDVI 3 *av*

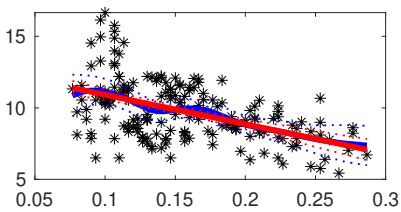

Region 0, IPC

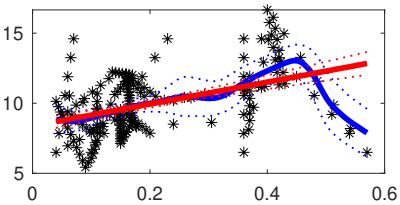

Region 0, IPC 6 *lag*

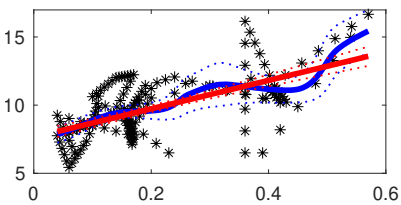

Region 0, crop diversity

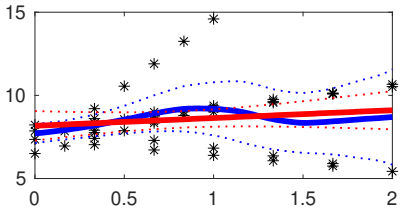

Region 0, crop diversity 6 *lag*

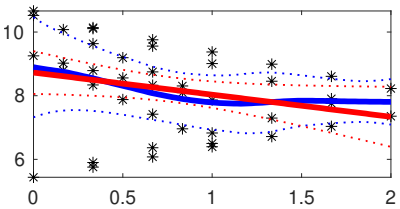

Region 0, crop production

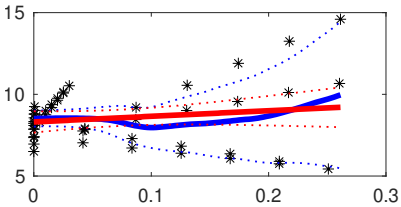

Region 0, crop production 6 *lag*

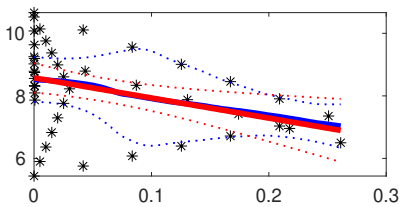

Region 0, population

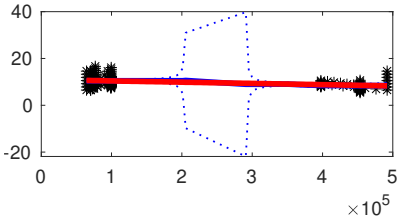

Region 0, population 6 *lag*

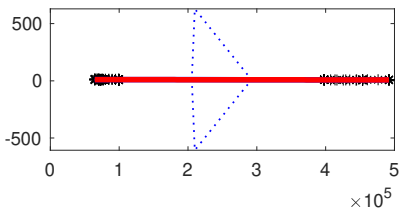

Region 0, density

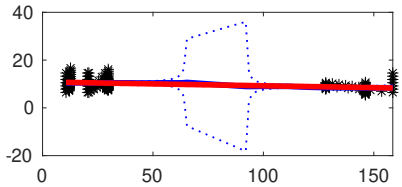

Region 0, density 6 *lag*

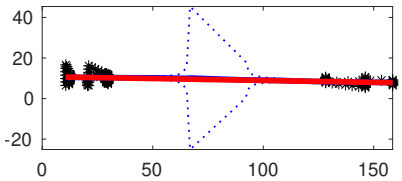

Region 1, conflicts

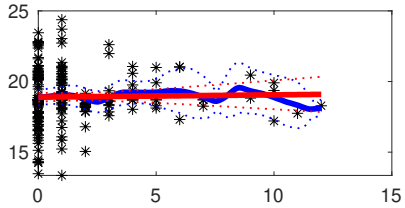

Region 1, conflicts 1 *lag*

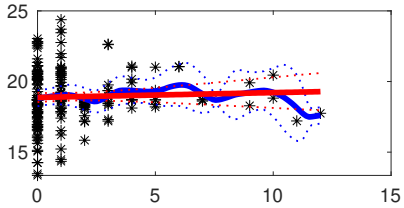

Region 1, conflicts 3 *sum*

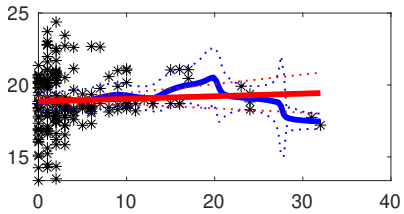

Region 1, rainfall

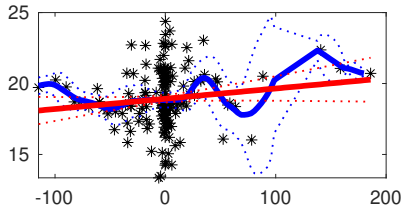

Region 1, rainfall 1 *lag*

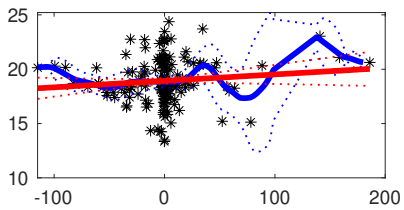

Region 1, rainfall 3 *sum*

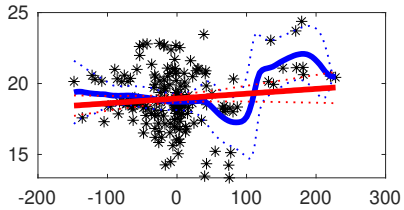

Region 1, NDVI

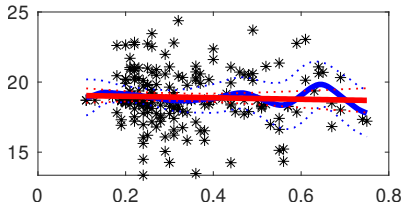

Region 1, NDVI 1 *lag*

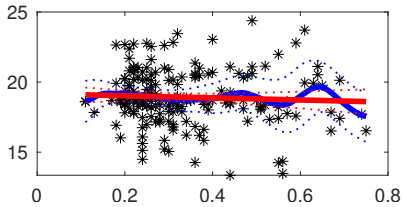

Region 1, NDVI 3 *av*

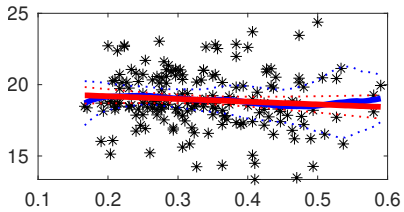

Region 1, IPC

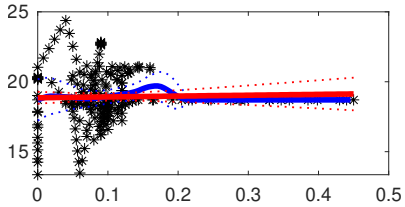

Region 1, IPC 6 *lag*

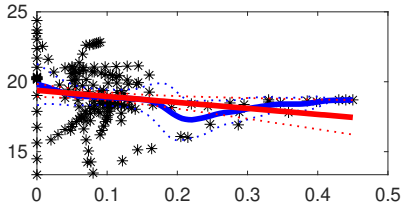

Region 1, crop diversity

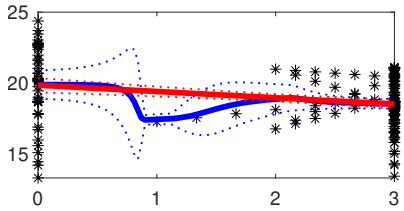

Region 1, crop diversity 6 *lag*

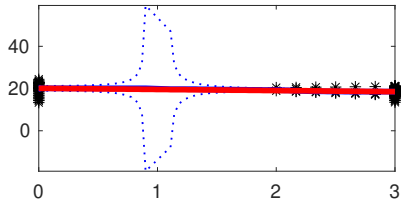

Region 1, crop production

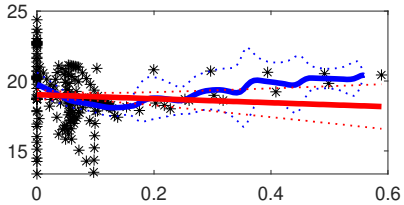

Region 1, crop production 6 *lag*

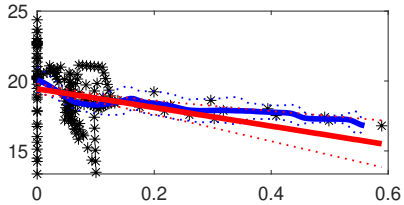

Region 1, population

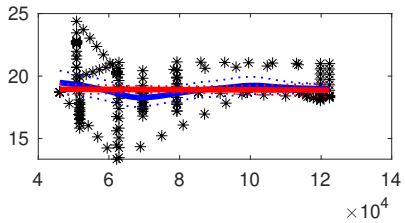

Region 1, population 6 *lag*

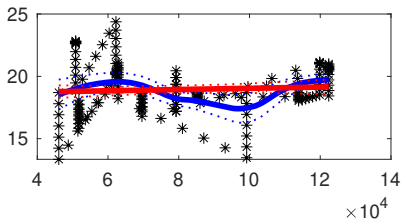

Region 1, density

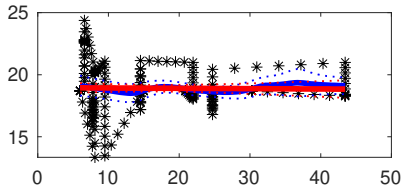

Region 1, density 6 *lag*

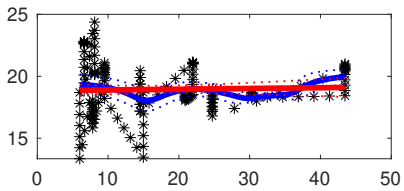

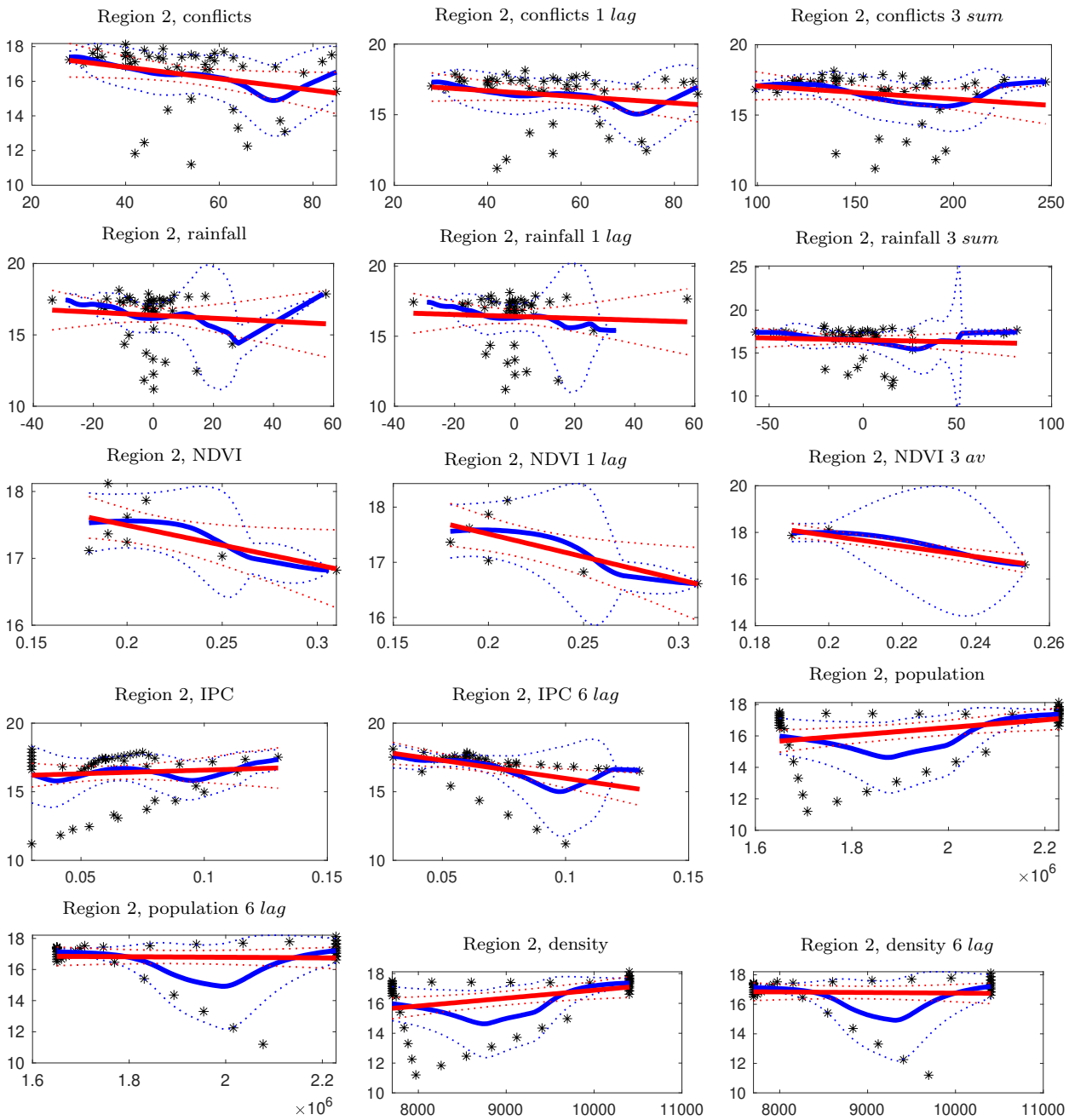
Region 2, conflicts
Region 2, conflicts 1 *lag*
Region 2, conflicts 3 *sum*
Region 2, rainfall
Region 2, rainfall 1 *lag*
Region 2, rainfall 3 *sum*
Region 2, NDVI
Region 2, NDVI 1 *lag*
Region 2, NDVI 3 *av*
Region 2, IPC
Region 2, IPC 6 *lag*
Region 2, population
Region 2, population 6 *lag*
Region 2, density
Region 2, density 6 *lag*
$\times 10^6$

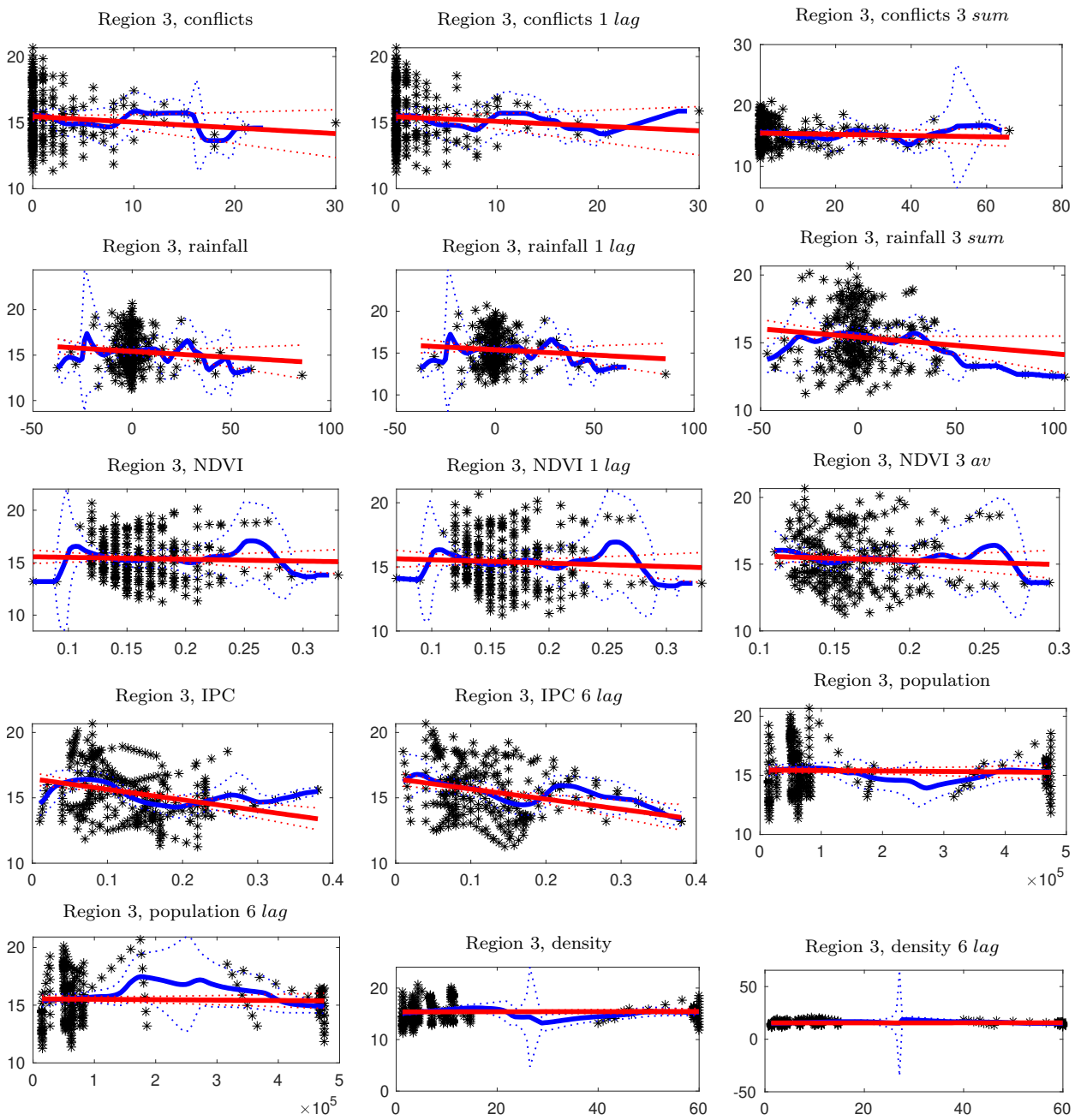
Region 3, conflicts
Region 3, conflicts 1 *lag*
Region 3, conflicts 3 *sum*
Region 3, rainfall
Region 3, rainfall 1 *lag*
Region 3, rainfall 3 *sum*
Region 3, NDVI
Region 3, NDVI 1 *lag*
Region 3, NDVI 3 *av*
Region 3, IPC
Region 3, IPC 6 *lag*
Region 3, population
Region 3, population 6 *lag*
Region 3, density
Region 3, density 6 *lag*
×10^5

Region 4, conflicts

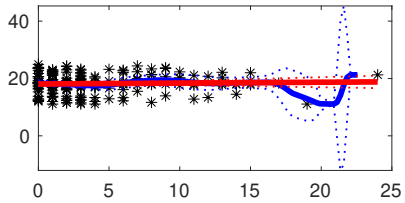

Region 4, conflicts 1 *lag*

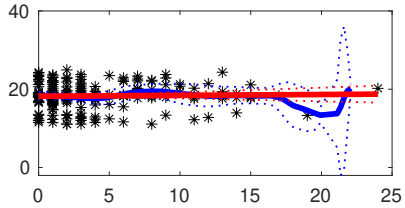

Region 4, conflicts 3 *sum*

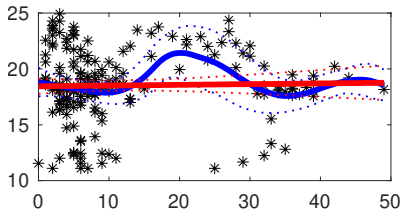

Region 4, rainfall

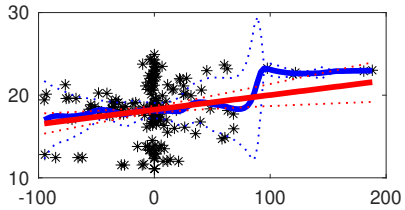

Region 4, rainfall 1 *lag*

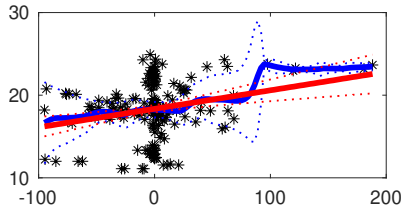

Region 4, rainfall 3 *sum*

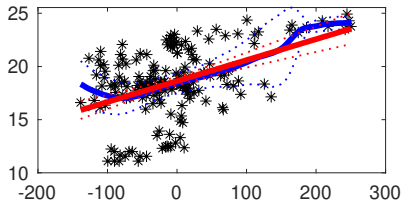

Region 4, NDVI

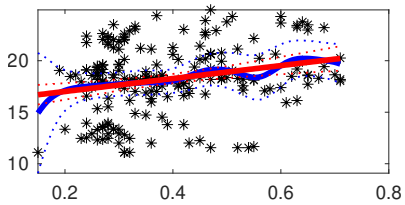

Region 4, NDVI 1 *lag*

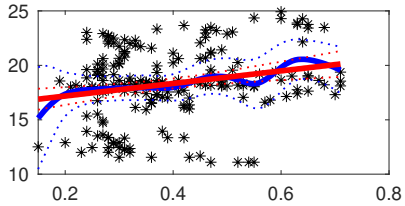

Region 4, NDVI 3 *av*

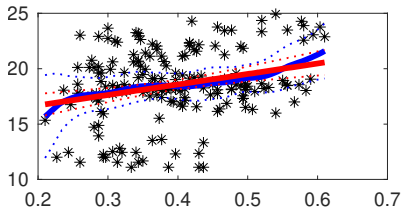

Region 4, IPC

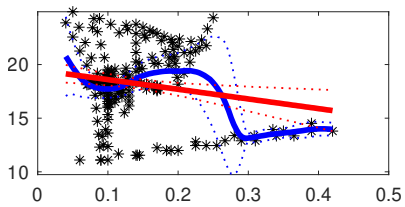

Region 4, IPC 6 *lag*

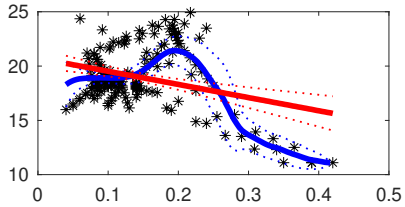

Region 4, crop diversity

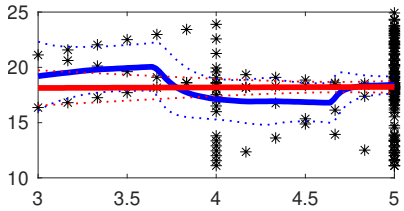

Region 4, crop diversity 6 *lag*

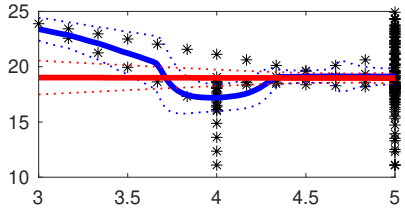

Region 4, crop production

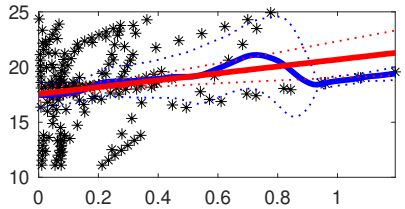

Region 4, crop production 6 *lag*

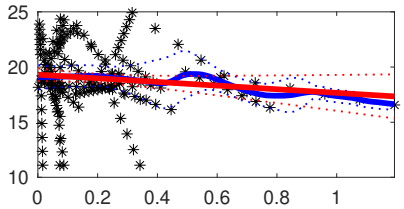

Region 4, population

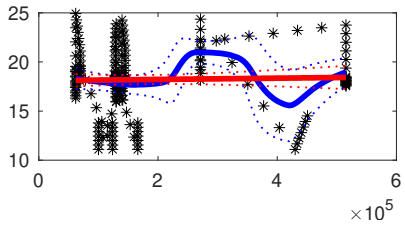

Region 4, population 6 *lag*

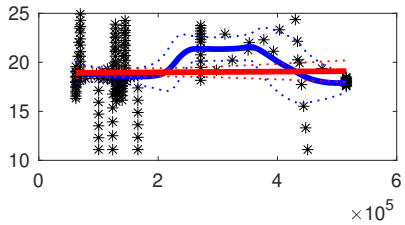

Region 4, density

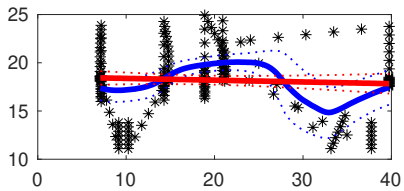

Region 4, density 6 *lag*

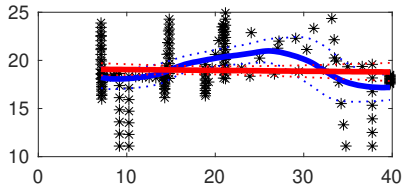

Region 5, conflicts

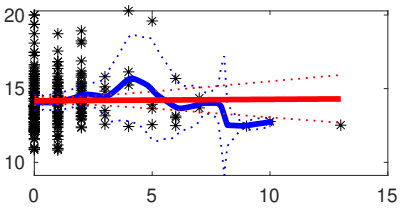

Region 5, conflicts 1 *lag*

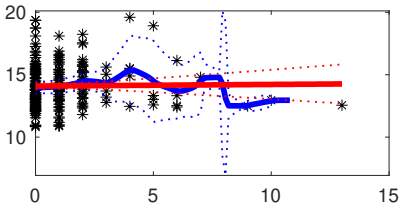

Region 5, conflicts 3 *sum*

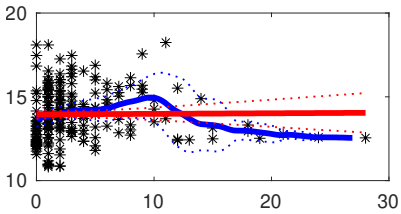

Region 5, rainfall

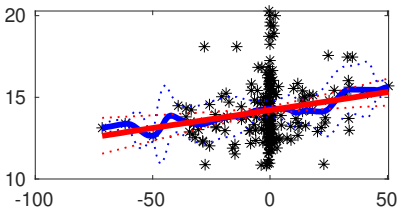

Region 5, rainfall 1 *lag*

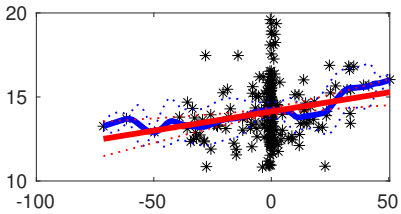

Region 5, rainfall 3 *sum*

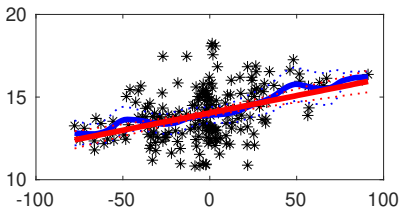

Region 5, NDVI

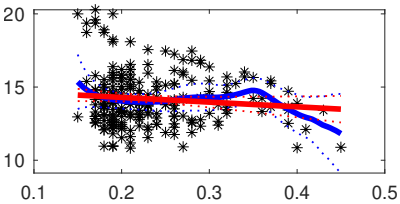

Region 5, NDVI 1 *lag*

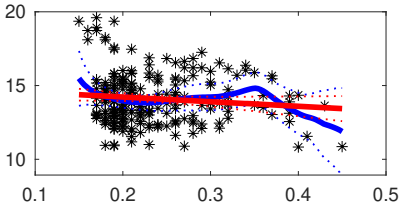

Region 5, NDVI 3 *av*

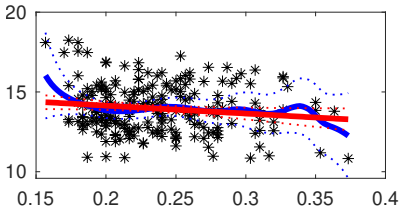

Region 5, IPC

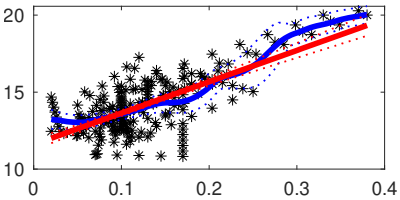

Region 5, IPC 6 *lag*

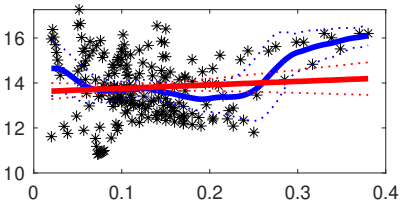

Region 5, crop diversity

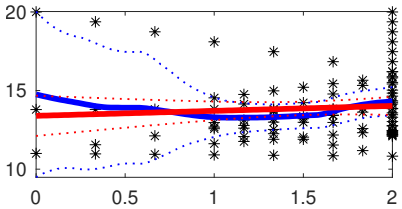

Region 5, crop diversity 6 *lag*

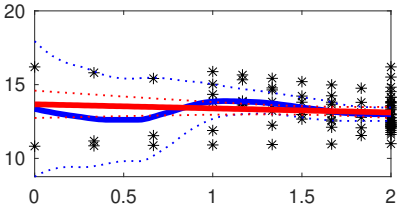

Region 5, crop production

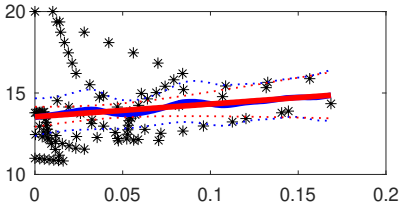

Region 5, crop production 6 *lag*

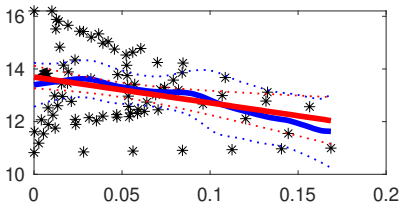

Region 5, population

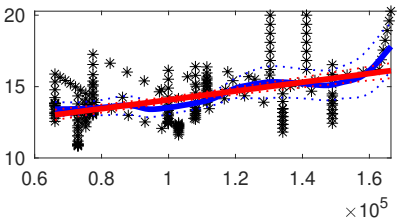

Region 5, population 6 *lag*

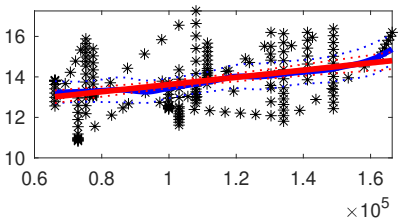

Region 5, density

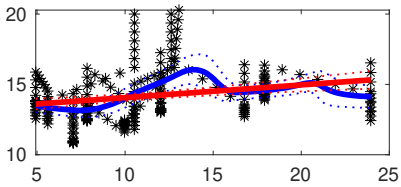

Region 5, density 6 *lag*

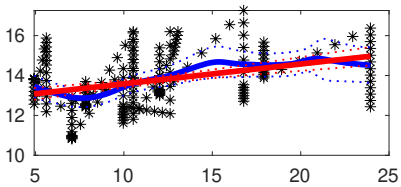

Region 9, conflicts

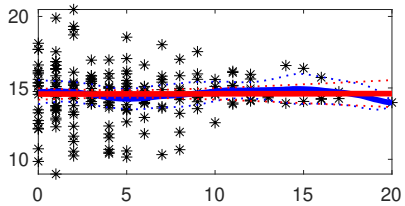

Region 9, conflicts 1 *lag*

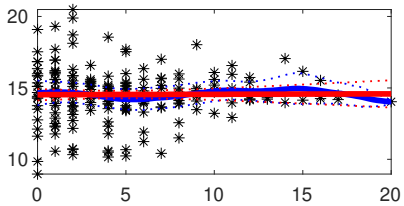

Region 9, conflicts 3 *sum*

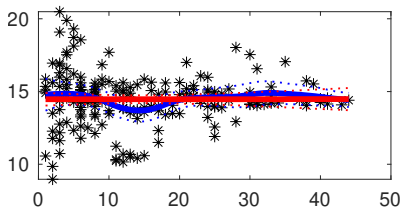

Region 9, rainfall

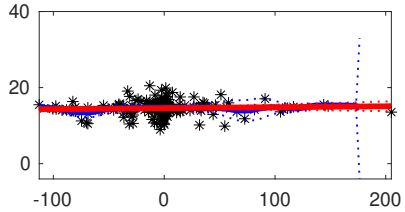

Region 9, rainfall 1 *lag*

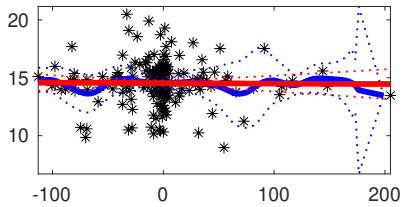

Region 9, rainfall 3 *sum*

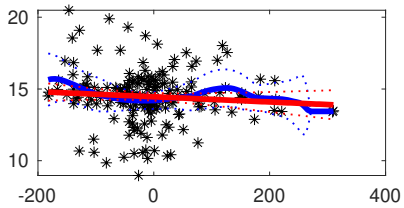

Region 9, NDVI

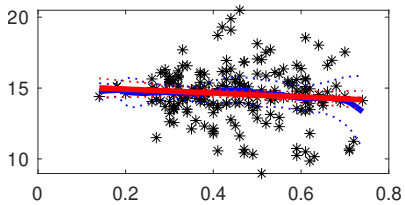

Region 9, NDVI 1 *lag*

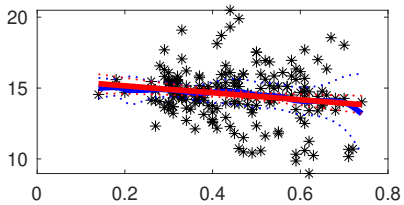

Region 9, NDVI 3 *av*

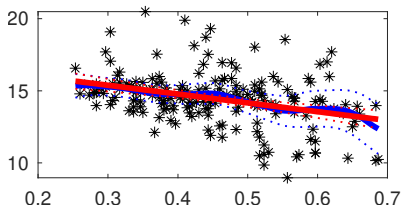

Region 9, IPC

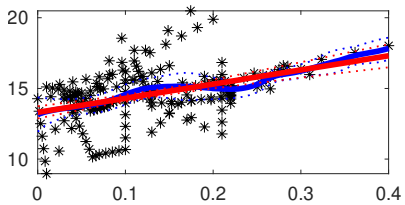

Region 9, IPC 6 *lag*

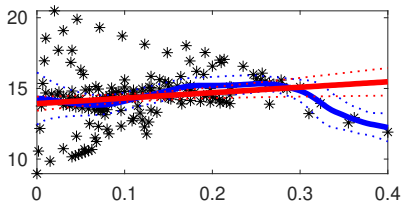

Region 9, crop diversity

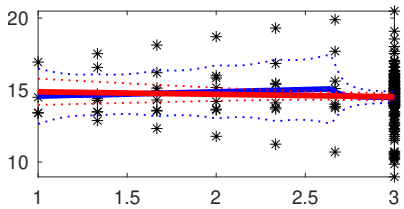

Region 9, crop diversity 6 *lag*

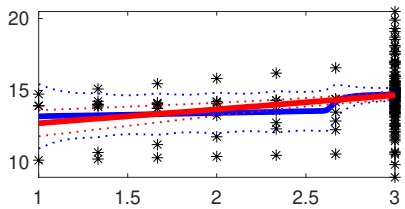

Region 9, crop production

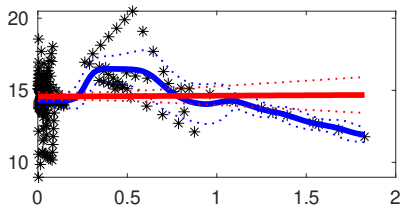

Region 9, crop production 6 *lag*

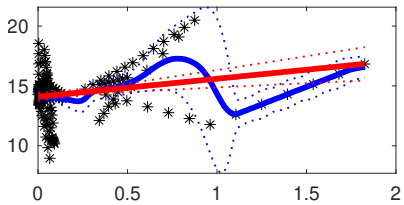

Region 9, population

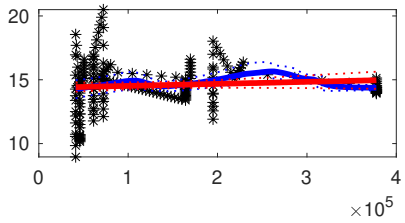

Region 9, population 6 *lag*

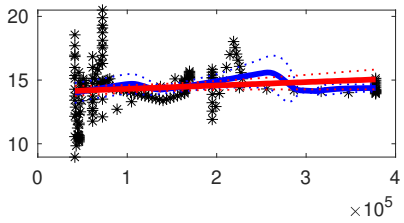

Region 9, density

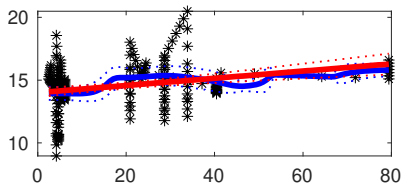

Region 9, density 6 *lag*

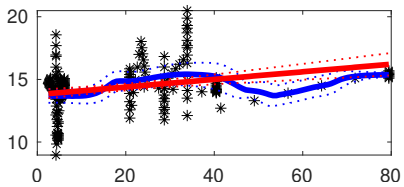

Region 10, conflicts

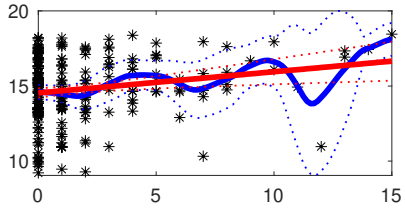

Region 10, conflicts 1 *lag*

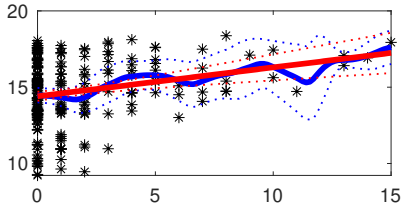

Region 10, conflicts 3 *sum*

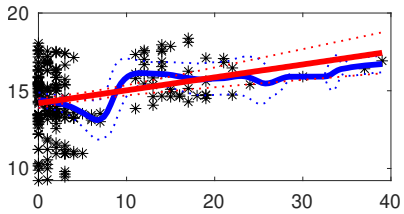

Region 10, rainfall

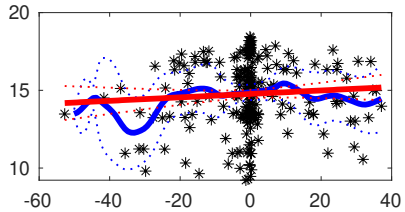

Region 10, rainfall 1 *lag*

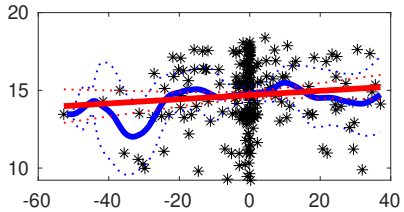

Region 10, rainfall 3 *sum*

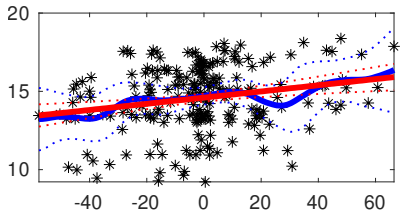

Region 10, NDVI

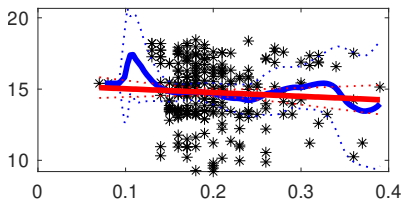

Region 10, NDVI 1 *lag*

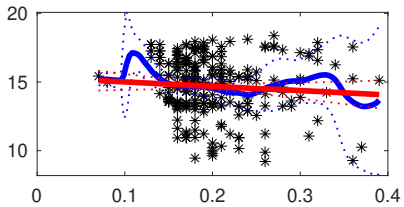

Region 10, NDVI 3 *av*

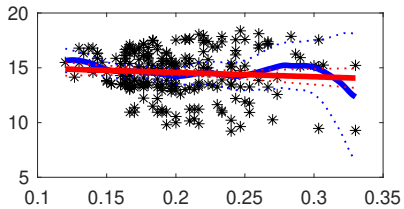

Region 10, IPC

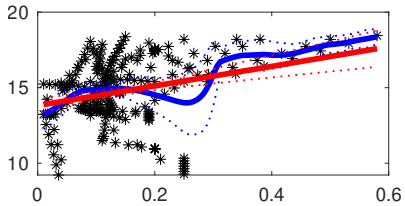

Region 10, IPC 6 *lag*

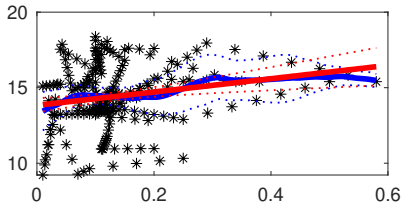

Region 10, crop diversity

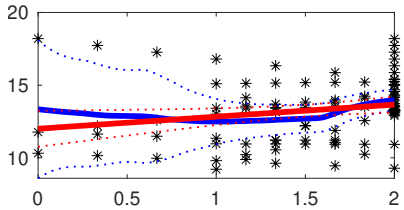

Region 10, crop diversity 6 *lag*

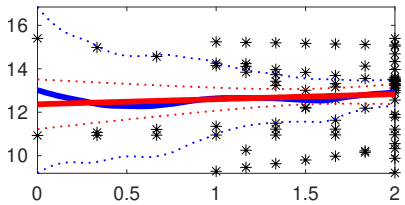

Region 10, crop production

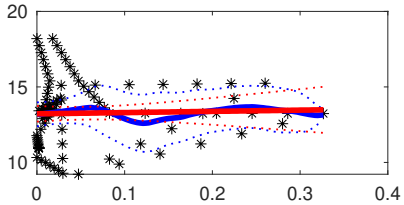

Region 10, crop production 6 *lag*

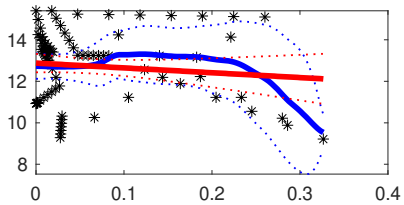

Region 10, population

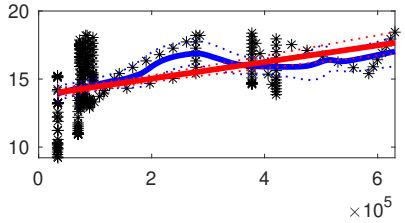

Region 10, population 6 *lag*

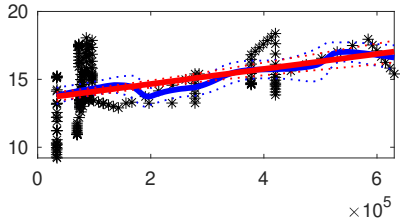

Region 10, density

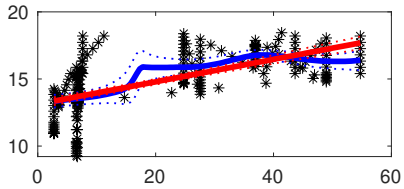

Region 10, density 6 *lag*

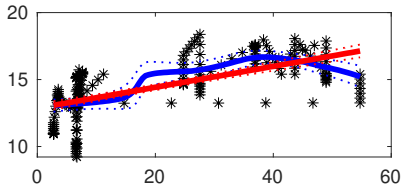

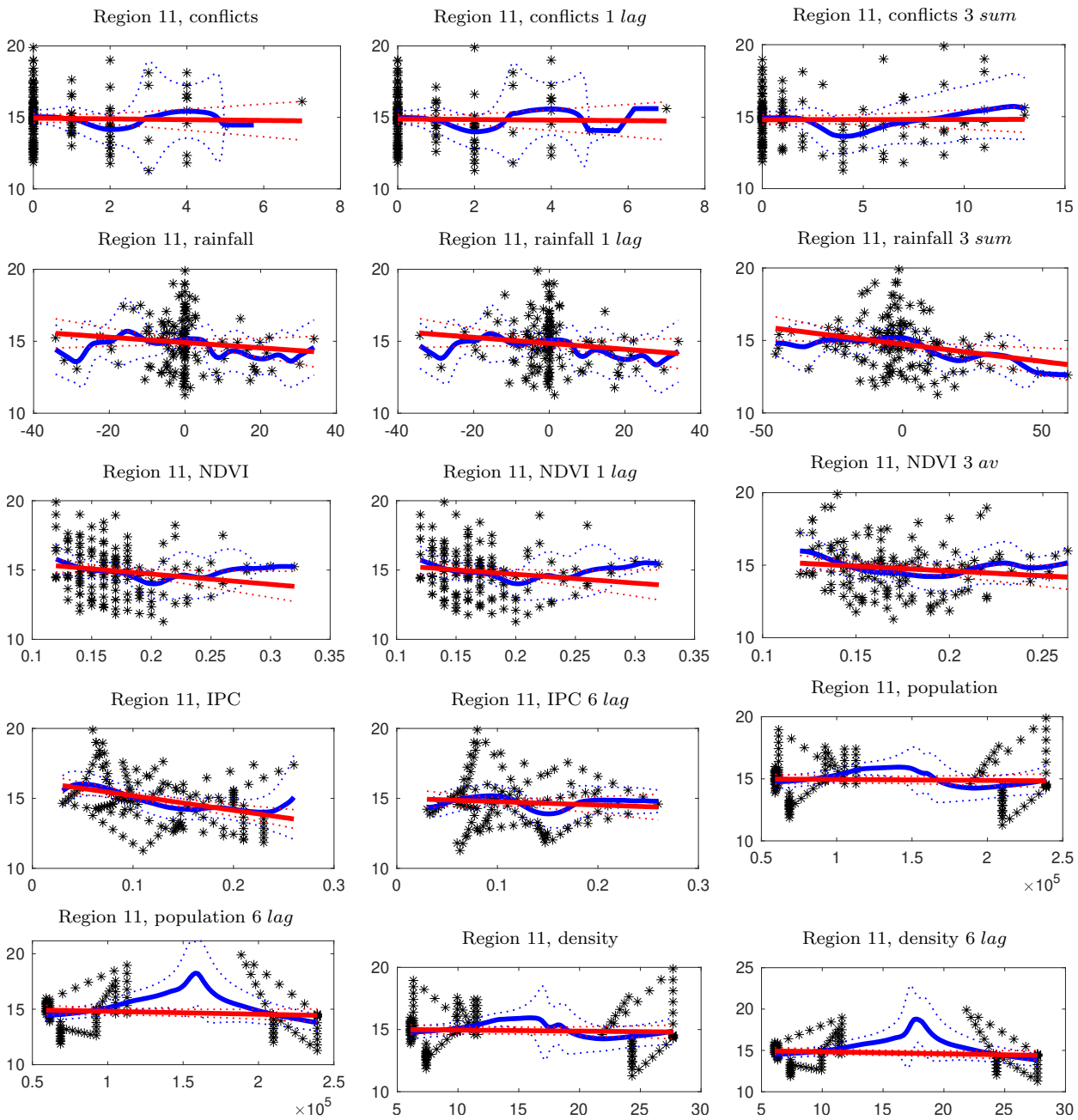
Region 11, conflicts
Region 11, conflicts 1 *lag*
Region 11, conflicts 3 *sum*
Region 11, rainfall
Region 11, rainfall 1 *lag*
Region 11, rainfall 3 *sum*
Region 11, NDVI
Region 11, NDVI 1 *lag*
Region 11, NDVI 3 *av*
Region 11, IPC
Region 11, IPC 6 *lag*
Region 11, population
Region 11, population 6 *lag*
Region 11, density
Region 11, density 6 *lag*
×10^5

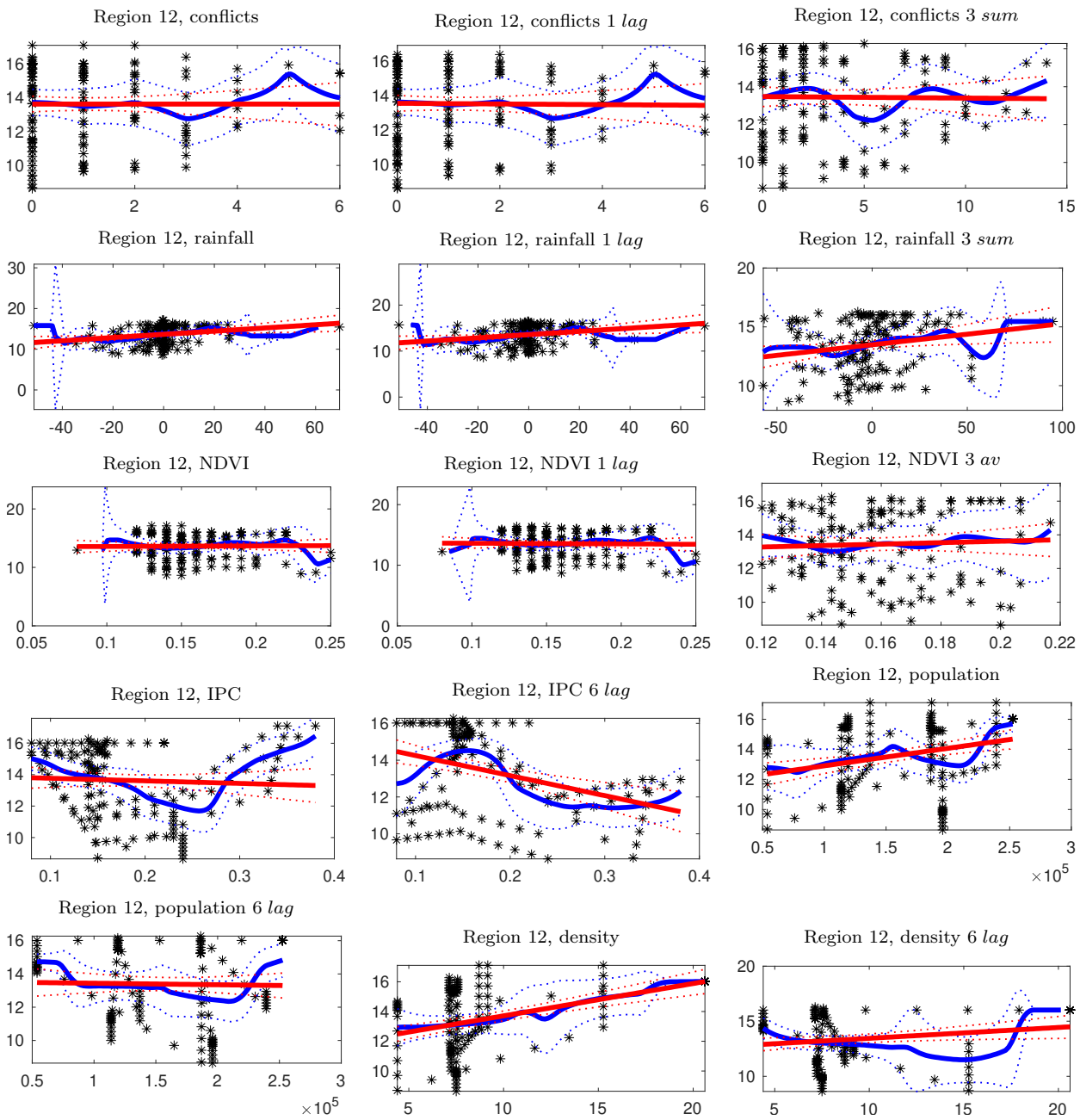
Region 12, conflicts
Region 12, conflicts 1 *lag*
Region 12, conflicts 3 *sum*
Region 12, rainfall
Region 12, rainfall 1 *lag*
Region 12, rainfall 3 *sum*
Region 12, NDVI
Region 12, NDVI 1 *lag*
Region 12, NDVI 3 *av*
Region 12, IPC
Region 12, IPC 6 *lag*
Region 12, population
Region 12, population 6 *lag*
Region 12, density
Region 12, density 6 *lag*
×10^5

Region 13, conflicts

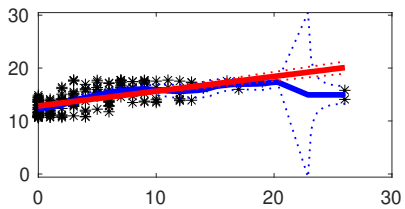

Region 13, conflicts 1 *lag*

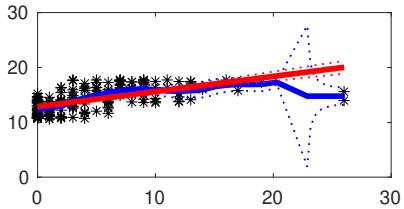

Region 13, conflicts 3 *sum*

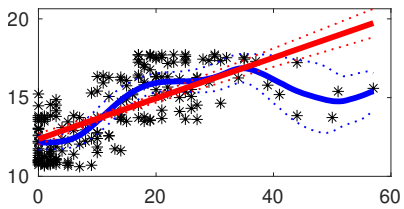

Region 13, rainfall

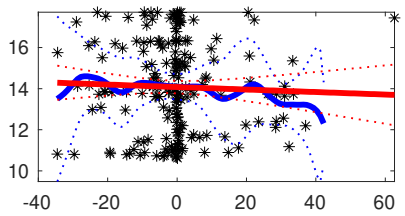

Region 13, rainfall 1 *lag*

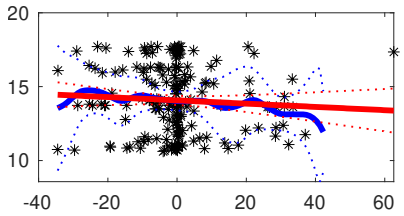

Region 13, rainfall 3 *sum*

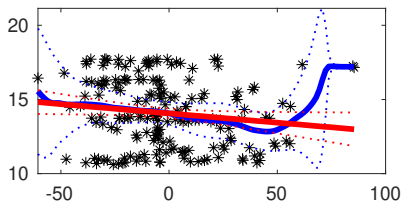

Region 13, NDVI

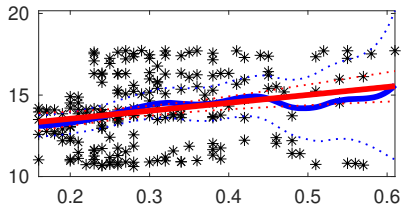

Region 13, NDVI 1 *lag*

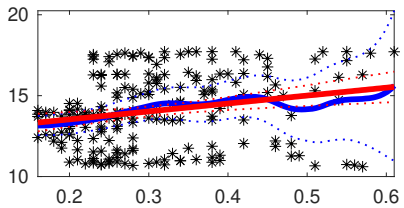

Region 13, NDVI 3 *av*

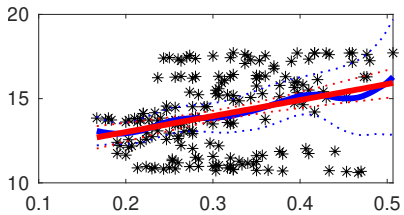

Region 13, IPC

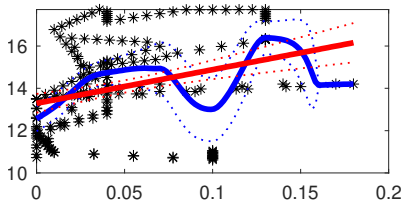

Region 13, IPC 6 *lag*

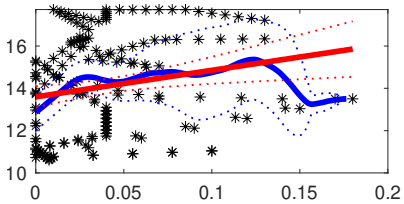

Region 13, crop diversity

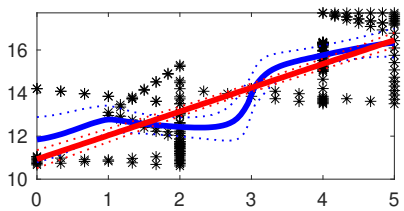

Region 13, crop diversity 6 *lag*

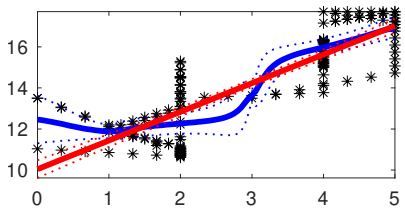

Region 13, crop production

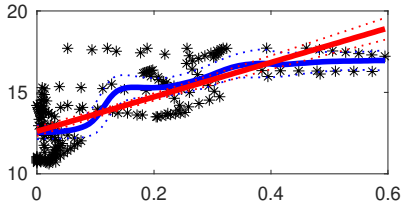

Region 13, crop production 6 *lag*

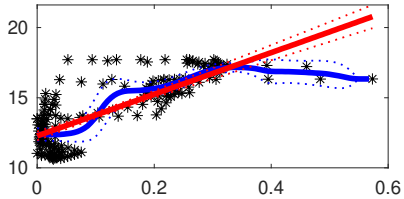

Region 13, population

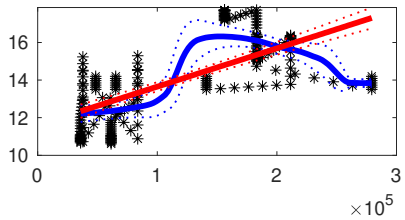

Region 13, population 6 *lag*

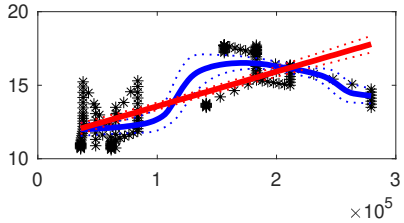

Region 13, density

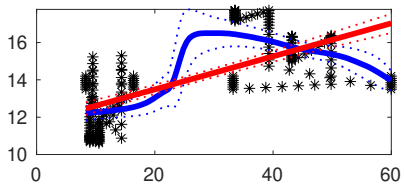

Region 13, density 6 *lag*

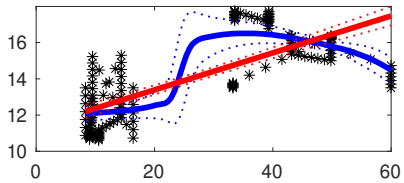

Region 14, conflicts

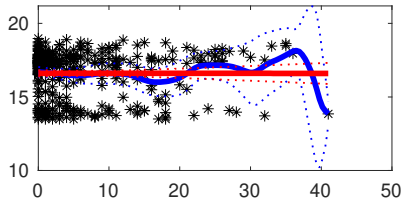

Region 14, conflicts 1 *lag*

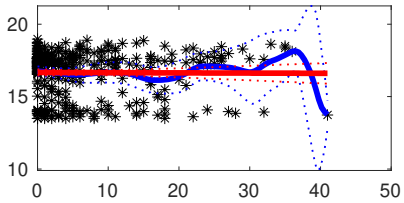

Region 14, conflicts 3 *sum*

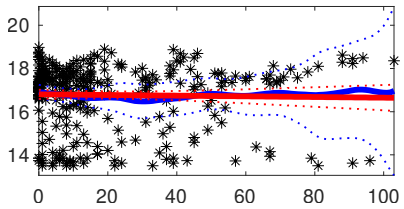

Region 14, rainfall

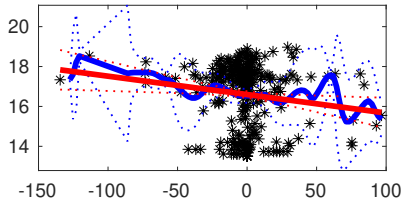

Region 14, rainfall 1 *lag*

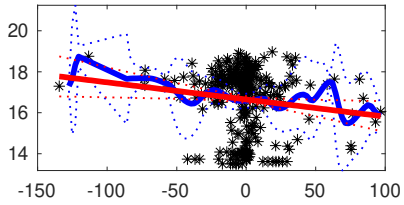

Region 14, rainfall 3 *sum*

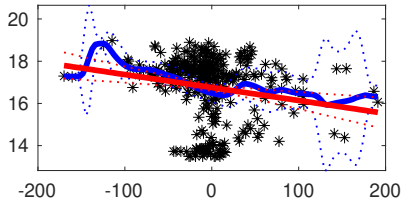

Region 14, NDVI

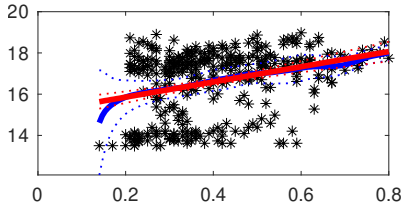

Region 14, NDVI 1 *lag*

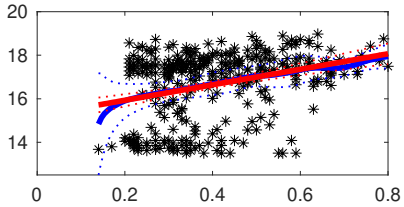

Region 14, NDVI 3 *av*

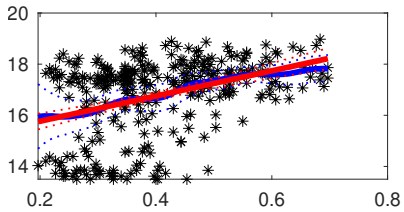

Region 14, IPC

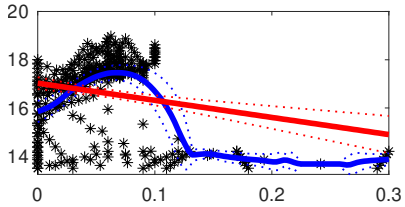

Region 14, IPC 6 *lag*

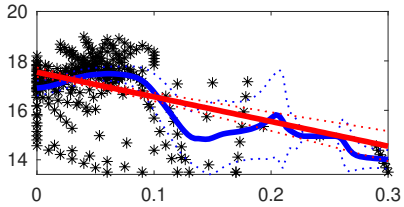

Region 14, crop diversity

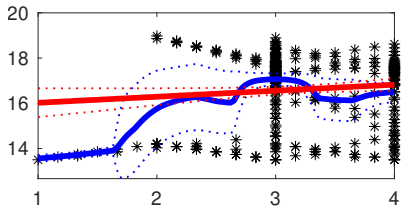

Region 14, crop diversity 6 *lag*

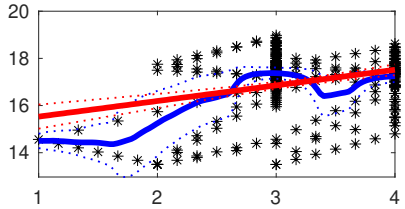

Region 14, crop production

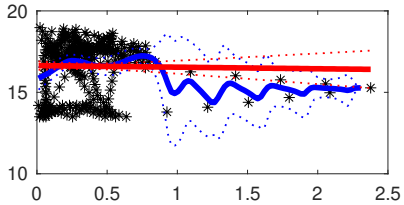

Region 14, crop production 6 *lag*

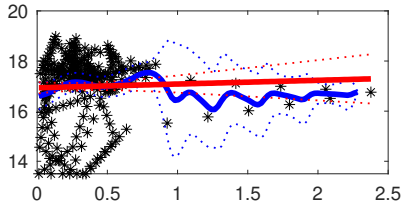

Region 14, population

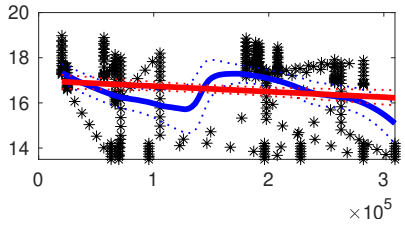

Region 14, population 6 *lag*

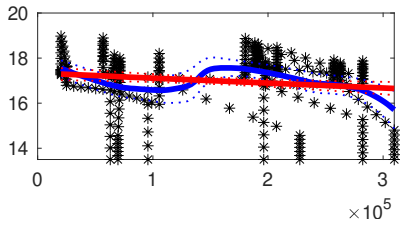

Region 14, density

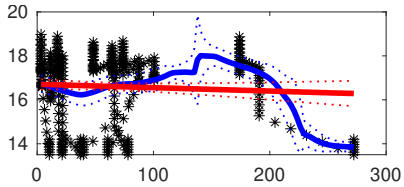

Region 14, density 6 *lag*

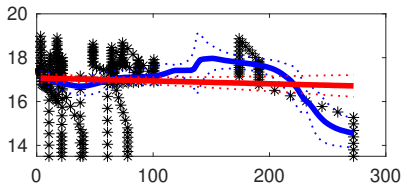

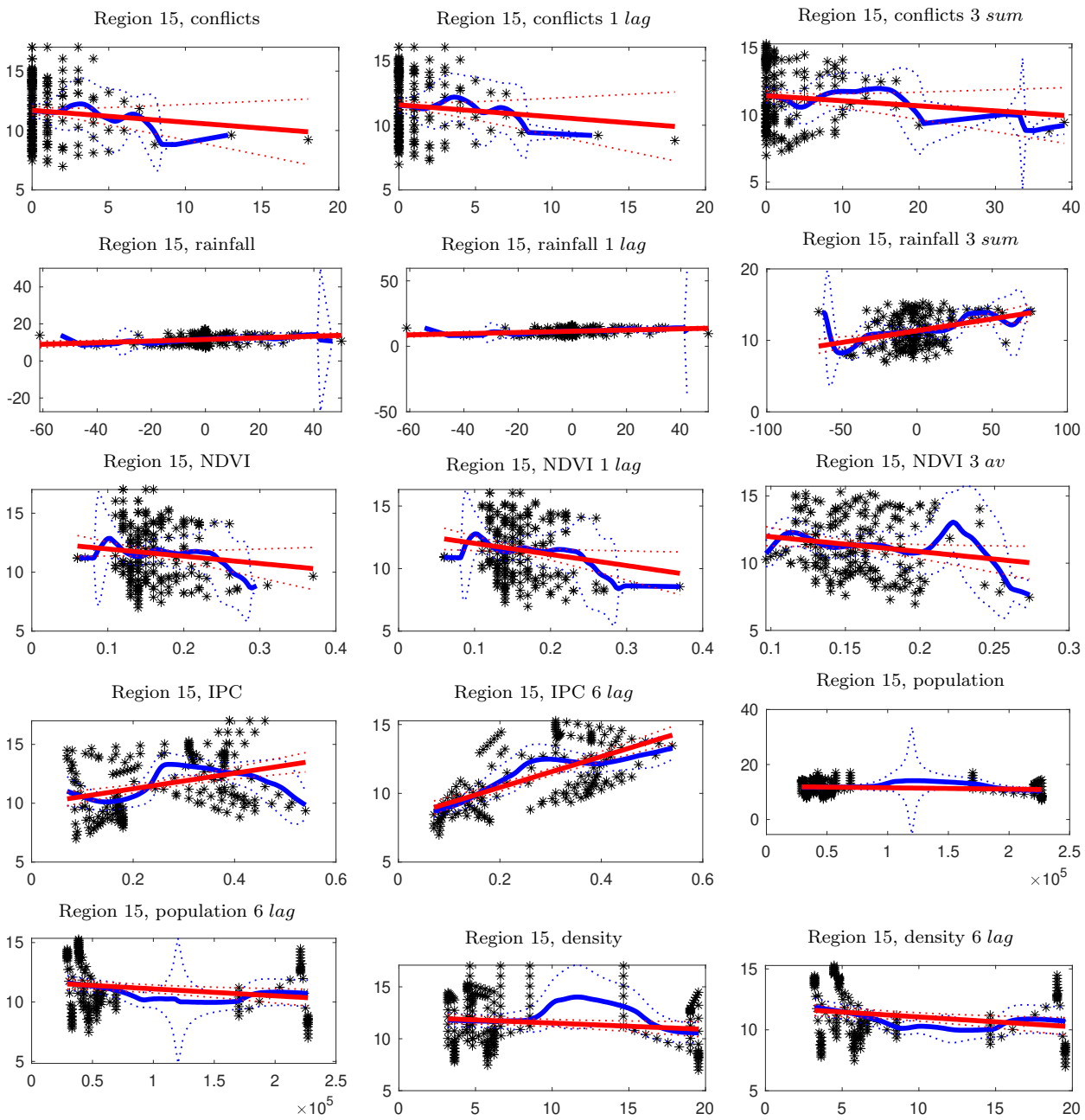
Region 15, conflicts
Region 15, conflicts 1 *lag*
Region 15, conflicts 3 *sum*
Region 15, rainfall
Region 15, rainfall 1 *lag*
Region 15, rainfall 3 *sum*
Region 15, NDVI
Region 15, NDVI 1 *lag*
Region 15, NDVI 3 *av*
Region 15, IPC
Region 15, IPC 6 *lag*
Region 15, population
Region 15, population 6 *lag*
Region 15, density
Region 15, density 6 *lag*
×10^5

Region 16, conflicts

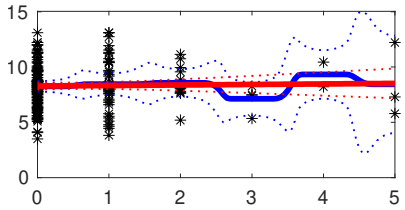

Region 16, conflicts 1 *lag*

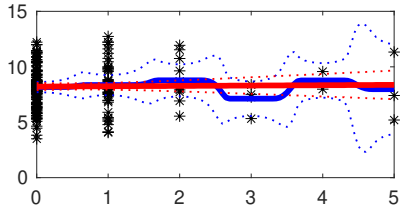

Region 16, conflicts 3 *sum*

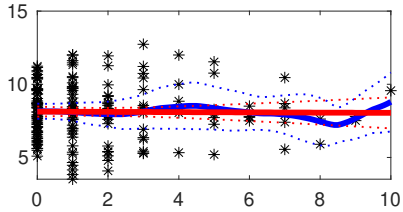

Region 16, rainfall

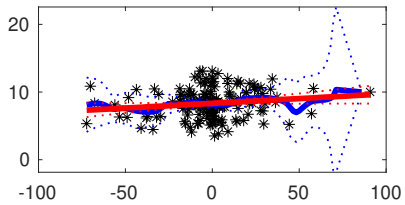

Region 16, rainfall 1 *lag*

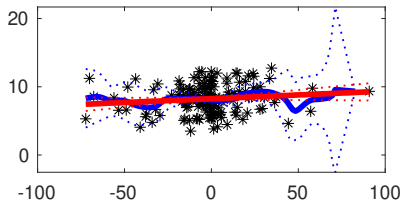

Region 16, rainfall 3 *sum*

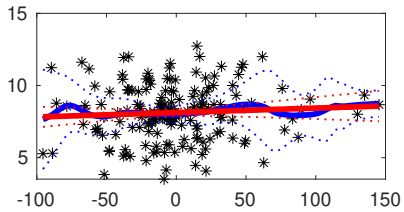

Region 16, NDVI

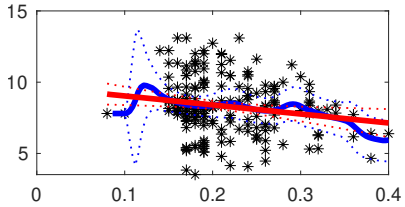

Region 16, NDVI 1 *lag*

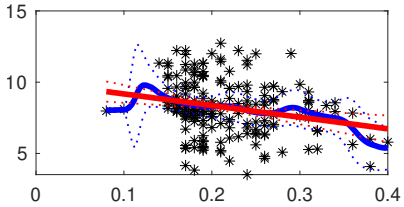

Region 16, NDVI 3 *av*

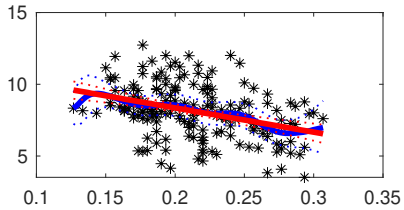

Region 16, IPC

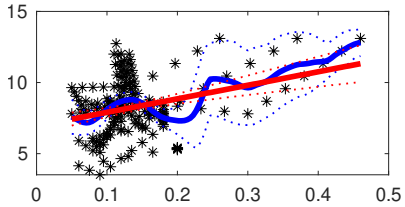

Region 16, IPC 6 *lag*

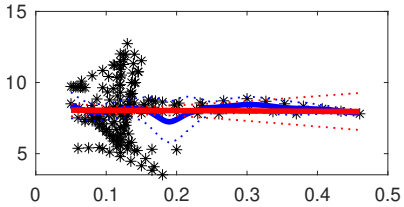

Region 16, crop diversity

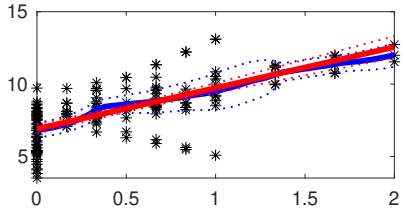

Region 16, crop diversity 6 *lag*

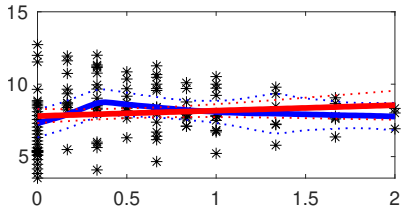

Region 16, crop production

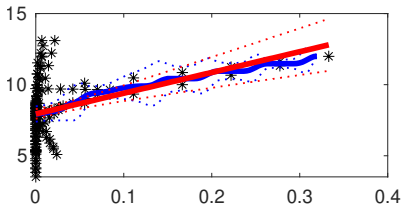

Region 16, crop production 6 *lag*

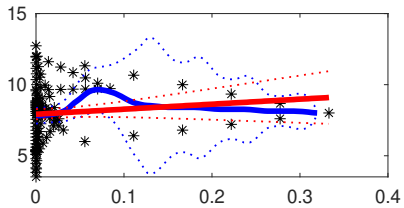

Region 16, population

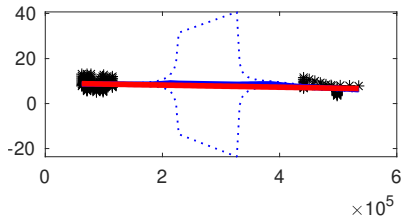

Region 16, population 6 *lag*

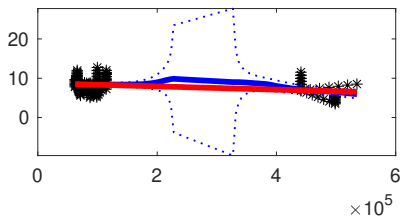

Region 16, density

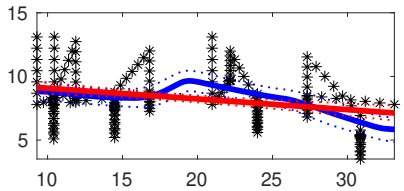

Region 16, density 6 *lag*

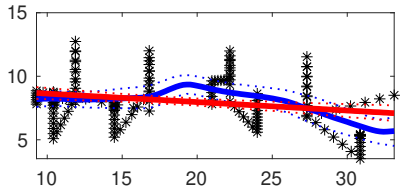

Region 17, conflicts

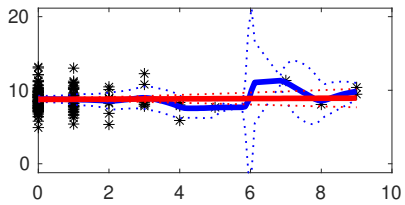

Region 17, conflicts 1 *lag*

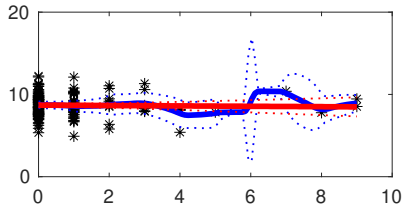

Region 17, conflicts 3 *sum*

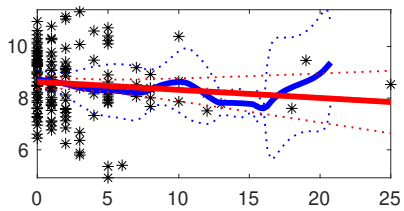

Region 17, rainfall

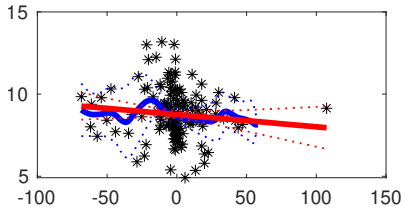

Region 17, rainfall 1 *lag*

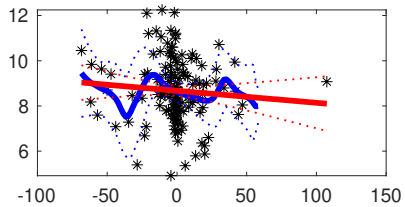

Region 17, rainfall 3 *sum*

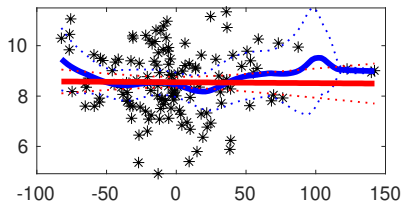

Region 17, NDVI

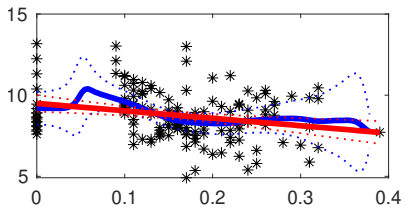

Region 17, NDVI 1 *lag*

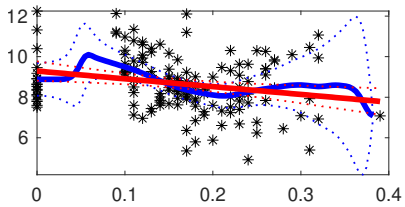

Region 17, NDVI 3 *av*

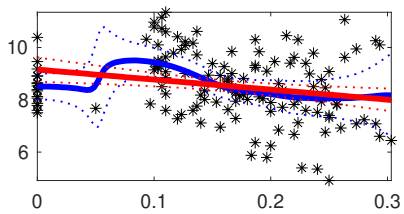

Region 17, IPC

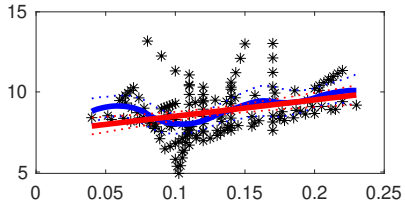

Region 17, IPC 6 *lag*

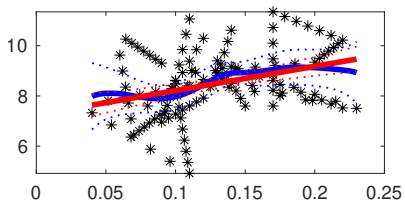

Region 17, crop diversity

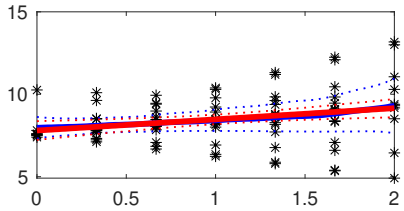

Region 17, crop diversity 6 *lag*

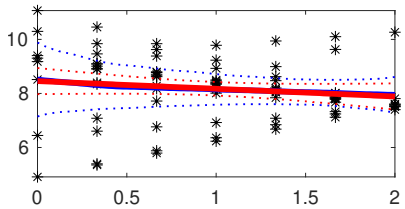

Region 17, crop production

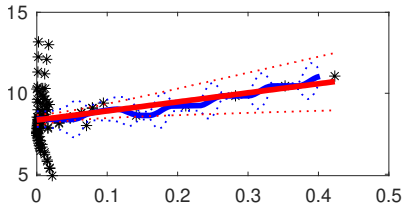

Region 17, crop production 6 *lag*

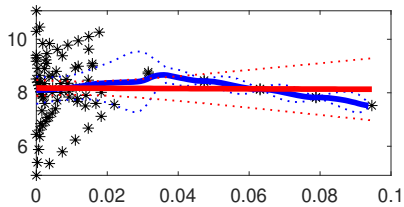

Region 17, population

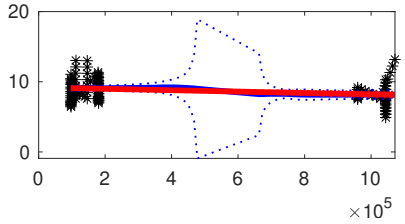

Region 17, population 6 *lag*

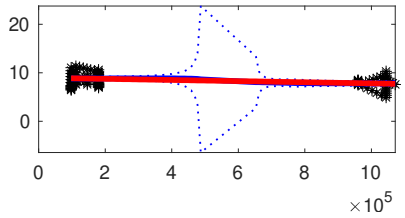

Region 17, density

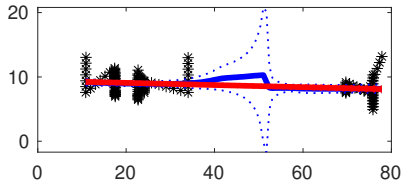
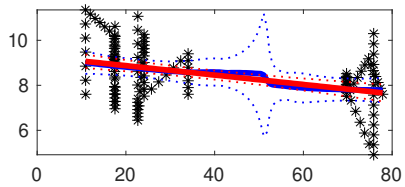
Region 17, density 6 *lag*